FloodSense: Application Interface and SystemDemonstration

This document presents the application interface of FloodSense, an AI-powered urban flood prediction system. It demonstrates key components of the system, including user interaction, prediction outputs, geospatial visualization, and automated alert mechanisms.

The screenshots highlight how the system processes real-time data and provides actionable insights for flood risk management.

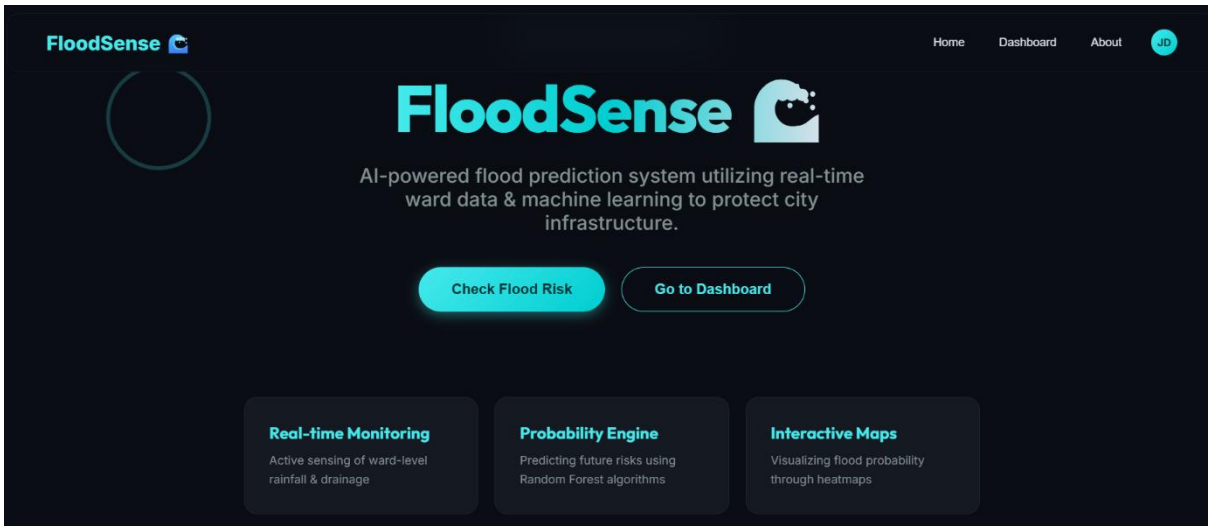

Figure-1: (Home page of FloodSense application)

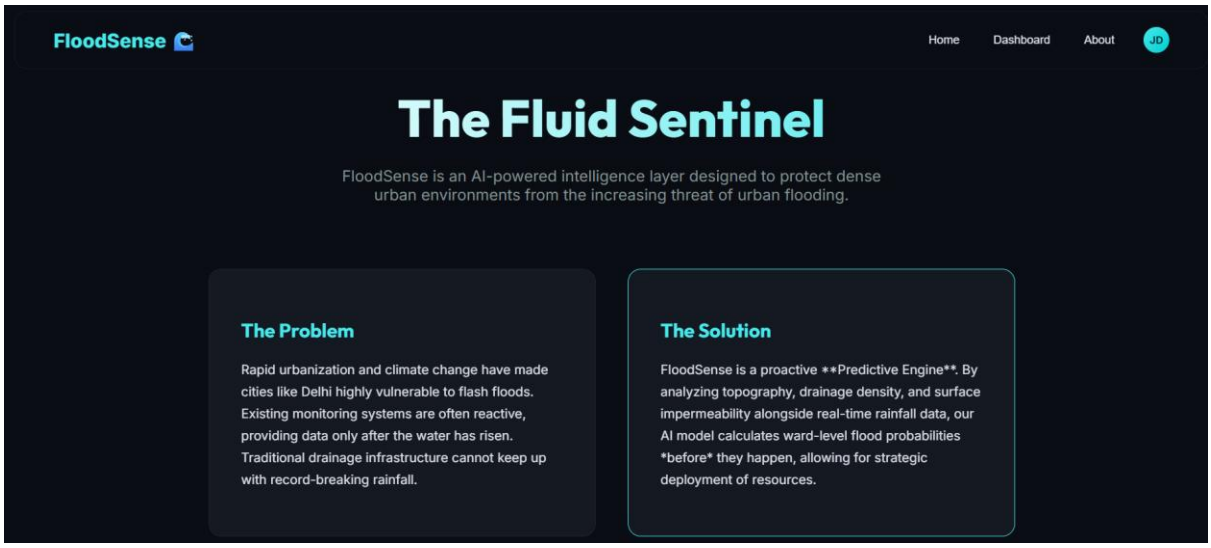

Figure-2: (About section outlining the problem statement and presenting FloodSense as the proposed solution (Part 1))

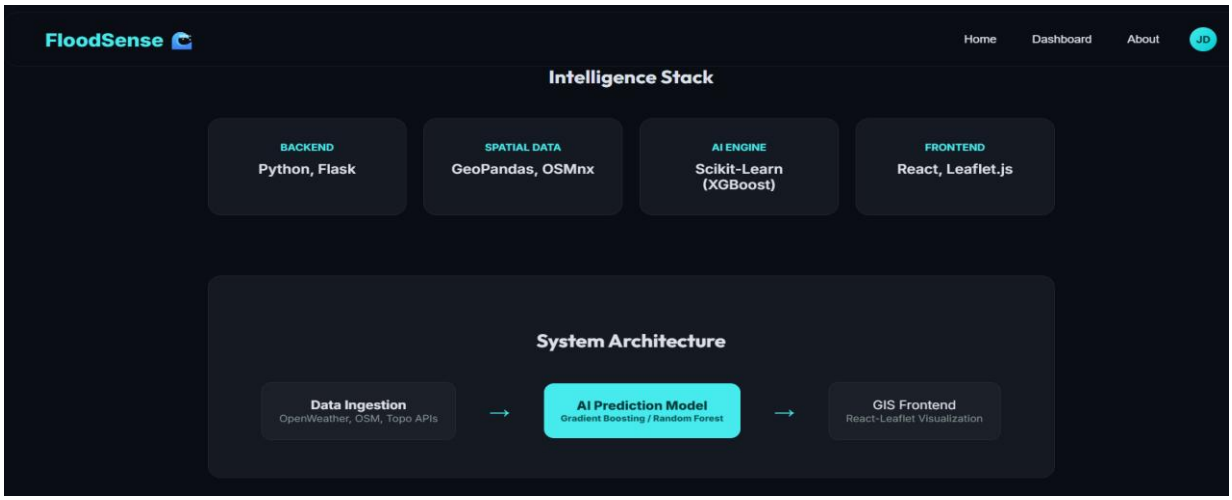

Figure 3: (Continued view of the About section illustrating the system architecture and AI-driven intelligence stack (Part 2))

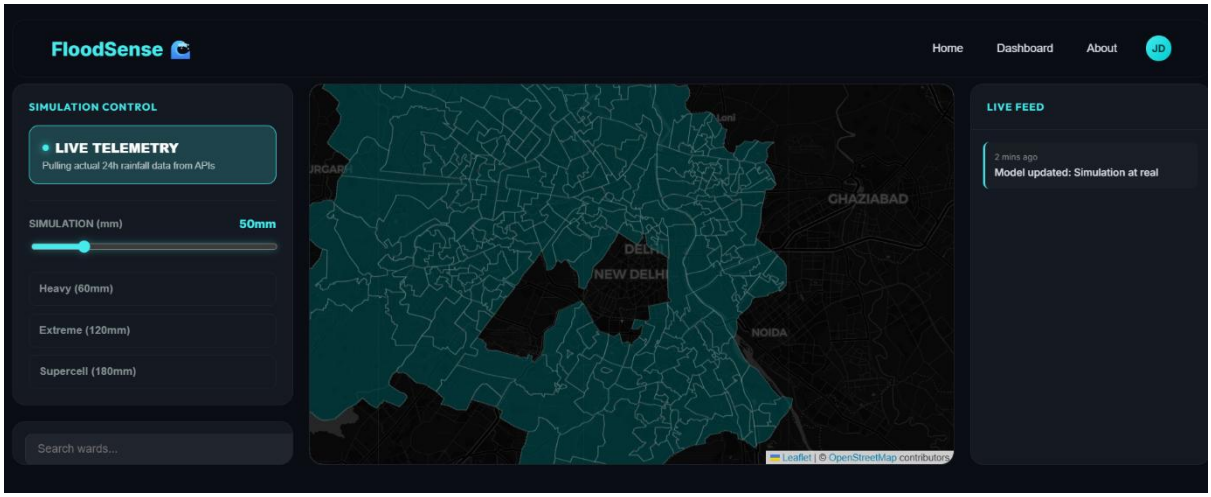

Figure 4: (Flood prediction results showing probability output derived from 24-hour real-time rainfall data and geospatial features)

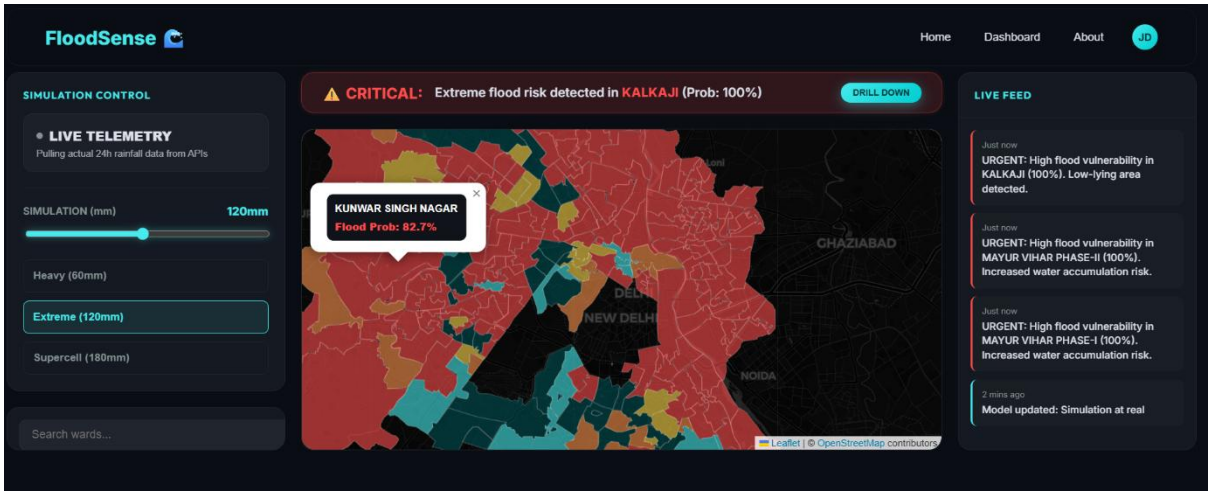

Figure-5: (Interactive map visualization highlighting flood-prone areas)

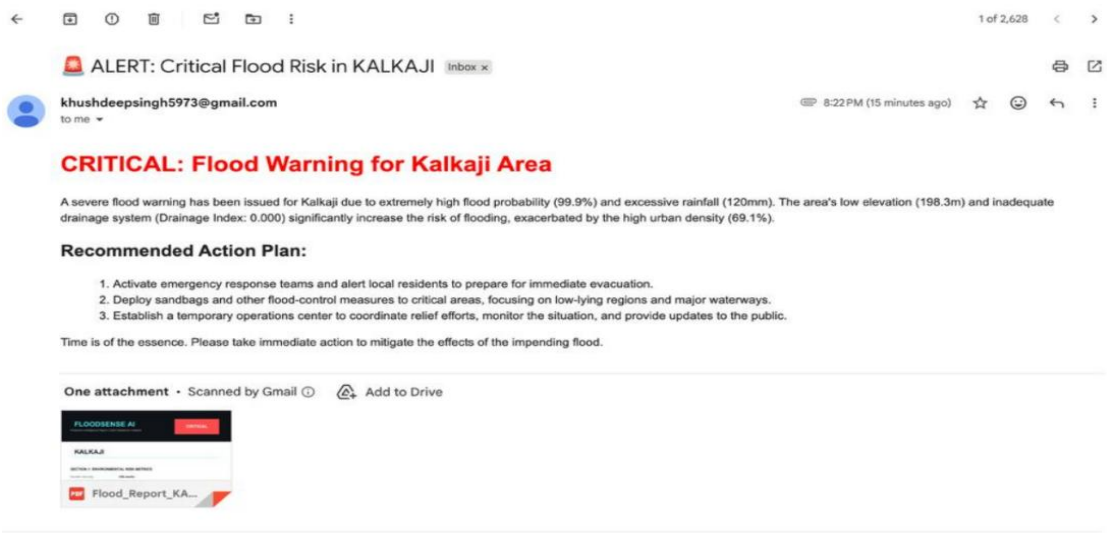

Figure-6: (Visualization of high flood-risk areas after prediction, with automated flood reports dispatched to government officials through email alerts)